



# Humanizing Technology

---

Critical Cartography and Civil Society

**Visiting Voice**

**Lecture**

**Wrap-up**

**Group Time**

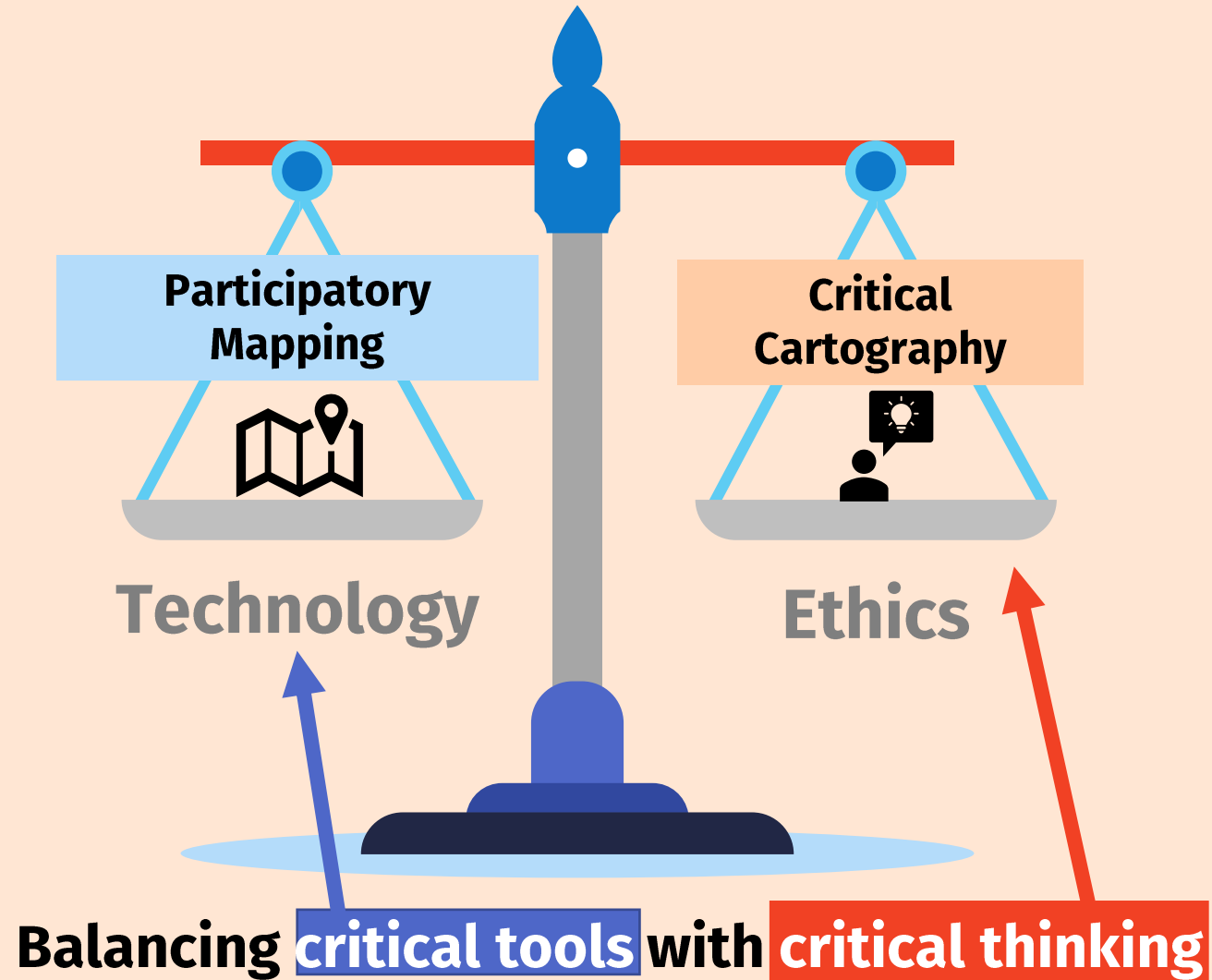
Join at  
**slido.com**  
#ucla

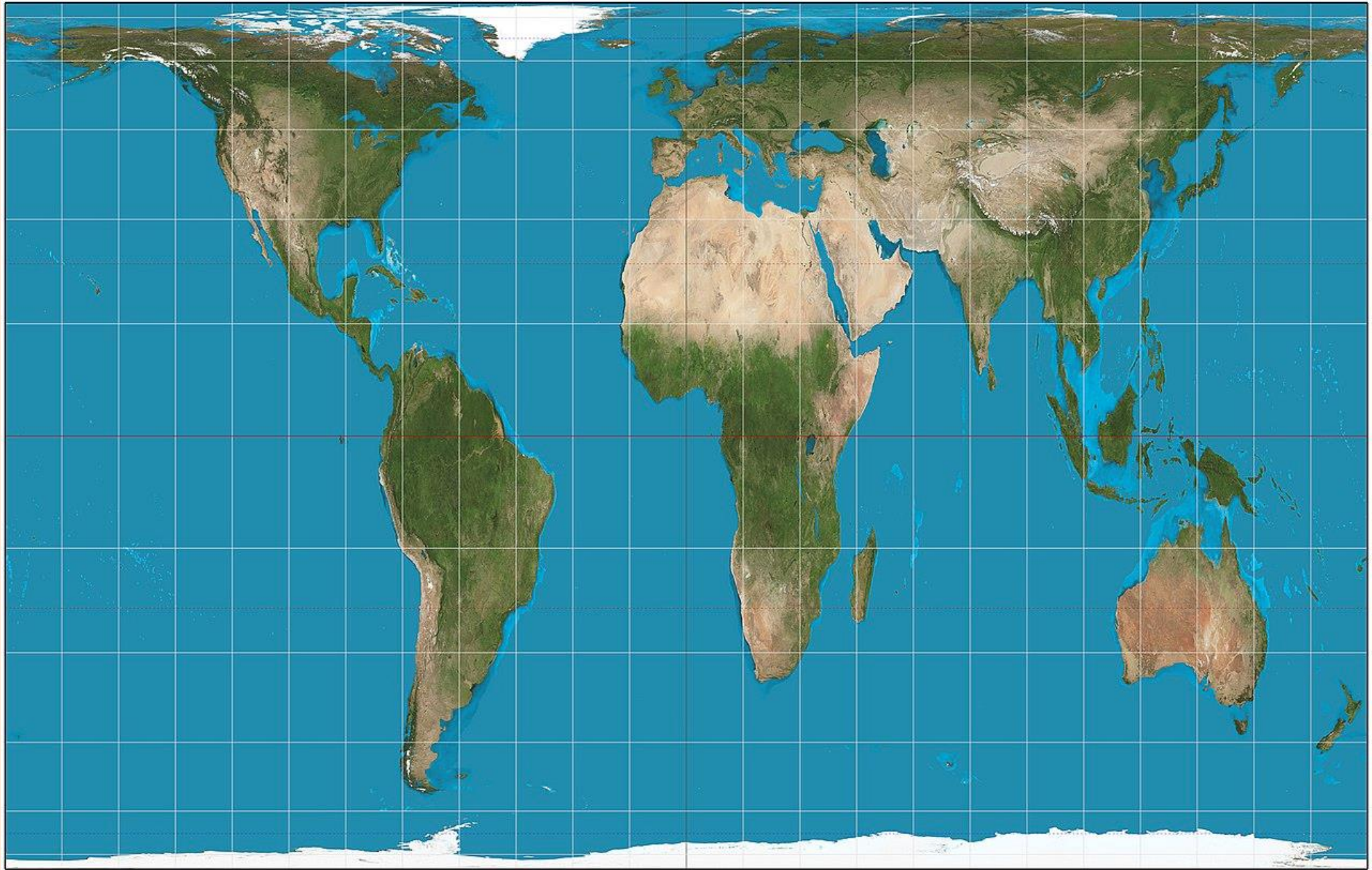
Albert Kochaphum  
Lecture 2 | April 11<sup>th</sup>, 2023

# **Theme of the week**

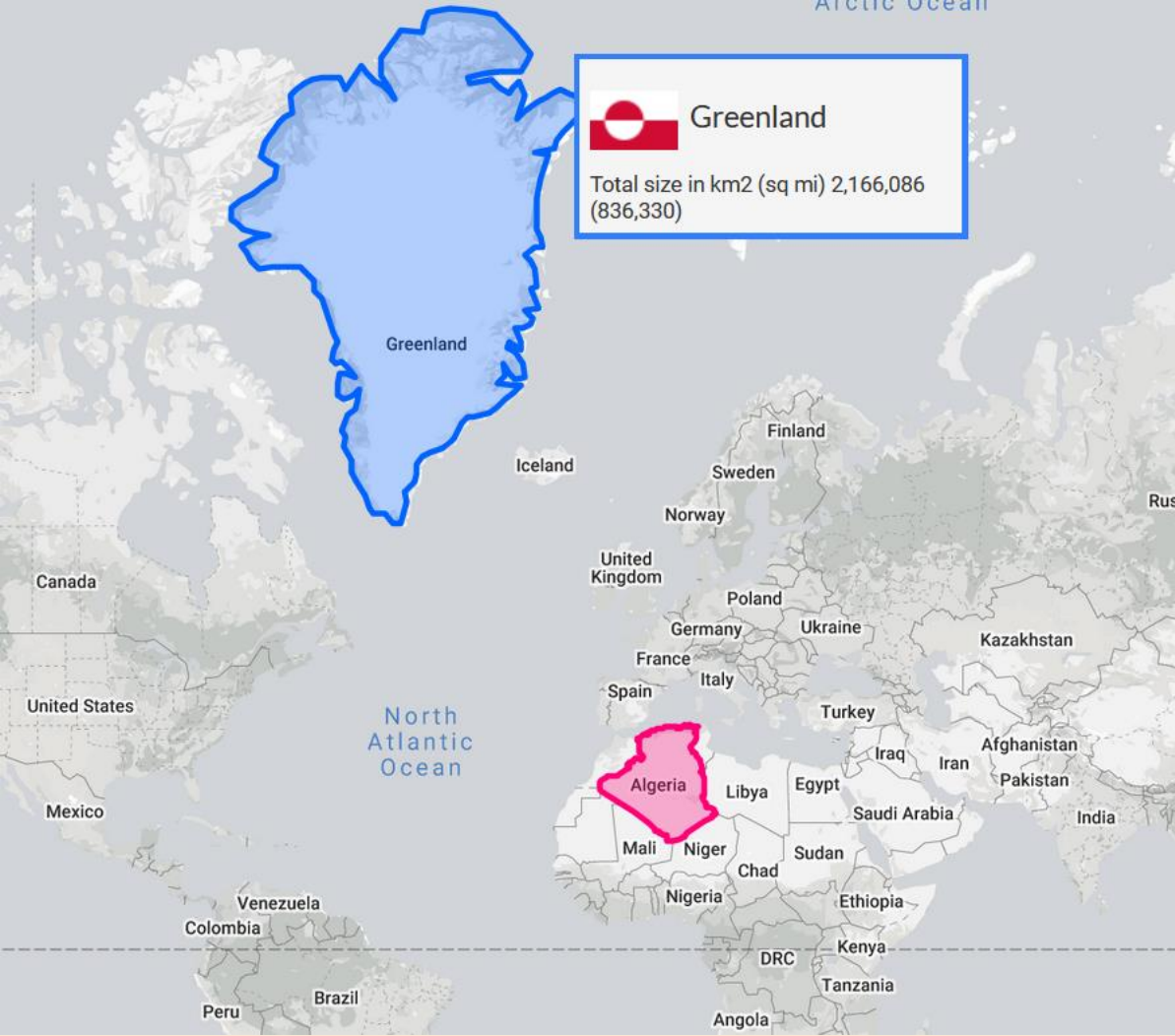
**Balancing critical tools with critical thinking**

# Theme of the week



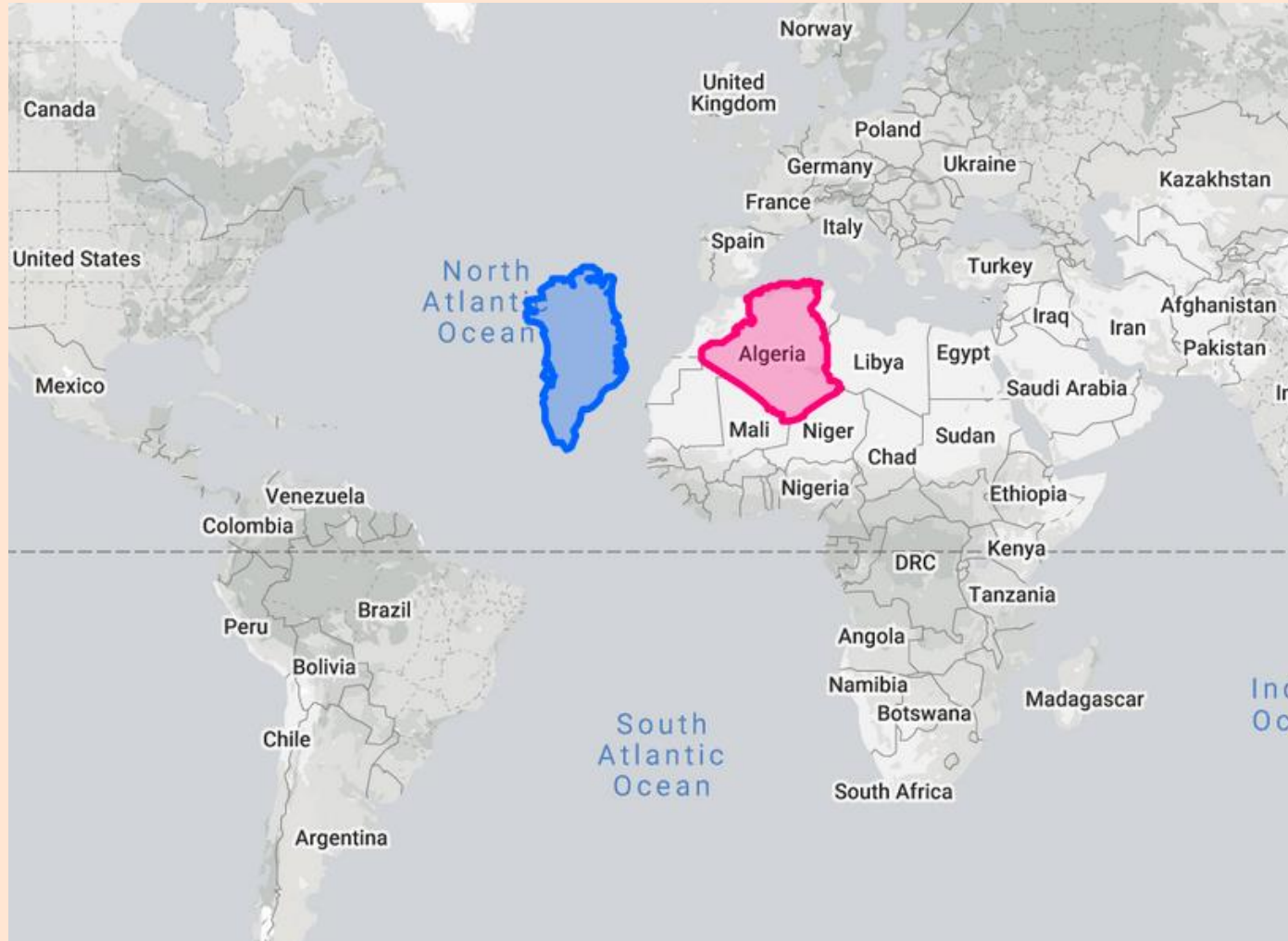


# Undisciplining Cartography





# Undisciplining Cartography



<https://thetruesize.com>

# Undisciplining Cartography

When you realize that Greenland is smaller than Algeria



**“Critique is about the politics of knowledge”**



# Humanizing Technology

---

Visiting Voice



**Visiting Voice**

**Lecture**

**Wrap-up**

**Group Time**

# Visiting Voice: Mariah Tso



Mariah Tso is a Diné woman, artist, and GIS Specialist for the [Ralph J. Bunche Center](#) and the [Million Dollar Hoods Project](#).

slido

# Audience Q&A Session

 Start presenting to display the audience questions on this slide.

# Humanizing Technology

---

Lecture

**Visiting Voice**

**Lecture**

**Wrap-up**

**Group Time**



# Lecture

---

???

Visiting Voice

???

Lecture

Discussion

Join at  
[slido.com](https://slido.com)  
#ucla

Albert Kochaphum  
Lecture 2 | April 11<sup>th</sup>, 2023

# Week 1 ALwards



Refreshing Com**MINT**s ALwards





**Catherine Hu**

Moreover, how someone chooses to present the data in a map—whether that's **selectively omitting certain locations, renaming some regions**, etc.—is entirely up to them and something the audience may not be aware of unless they do their own research.

<https://github.com/albertkun/23S-ASIAAM-191A/discussions/1#discussioncomment-5567265>

**Mohammed Azad**

“Even as the power to make maps is being transferred to the hands of the people, it is important to **see who continues to produce certain data and GIS** analyses in today’s era. It is often **governments** and **businesses** with the resources to purchase high end data and mapping software compared to the average person”

<https://github.com/albertkun/23S-ASIAAM-191A/discussions/1#discussioncomment-5567949>



# Great connection between the reading and prompt

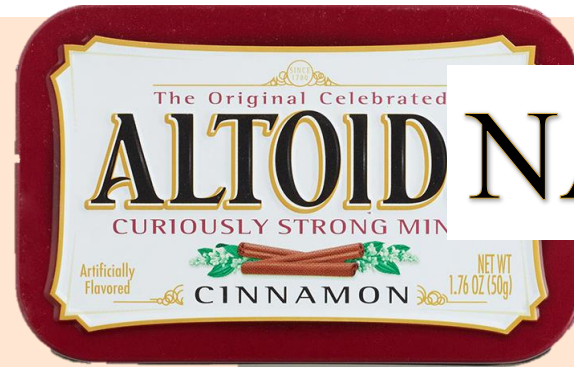


Paige Lee

I think a **problem with the way we use data and GIS** is that despite recent technological advancements in this field, there is still **unequal access to tools and resources...** However, there is a “**digital divide**” that exists between social groups “by race, age, location, and education.”

<https://github.com/albertkun/23S-ASIAAM-191A/discussions/1#discussioncomment-5565928>

# GREAT EXAMPLE ABOUT



# NATIVE PERSPECTIVES

**Zachary Pakin**

“Simply thinking of a basic example of the **Mercator projection** that I look at every time I open Google Maps **reinforces the idea of a single truth**. I believe that many people have no idea about how the **Mercator projection is biased...**”

<https://github.com/albertkun/23S-ASIAAM-191A/discussions/1#discussioncomment-5526768>

**Sage Luong**

“...**These contrasting or silenced narratives thus make it difficult for people to know who to trust**. Having civil disagreements also becomes impossible as people condemn the other party's sources for being inaccurate, wrong, or of poor quality simply because it **supports a different narrative than theirs.**”

<https://github.com/albertkun/23S-ASIAAM-191A/discussions/1#discussioncomment-5566745>

# Dentyne *Nice* Examples

## Charles Zhang

“When used in a vacuum, **people can use data** to generate their own narratives, **push their own agendas...** a restaurant could claim that it has **100% positive reviews**, but if they've only been reviewed by **one customer**, then the statement is a lot less impressive”

<https://github.com/albertkun/23S-ASIAAM-191A/discussions/1#discussioncomment-5549306>

## Mandy Lai

"when representing the number of COVID-related hate crimes in the United States, it is important to decide whether to use the **absolute value** or **value adjusted to the population** of each state"

<https://github.com/albertkun/23S-ASIAAM-191A/discussions/1#discussioncomment-5573666>

# Good reading material

## Ricolaelcion

Casey Carandang

“An example from An Introduction to Critical Cartography, if a **map hacker** uses information of their own or from some other websites in which they transfer the info into softwares we use like Google Maps, cartography is no longer in the hands of healthy resources but rather from internet users.”

<https://github.com/albertkun/23S-ASIAAM-191A/discussions/1#discussioncomment-5567846>

Danielle Goldwirth

“... **mapping involves political bias and can perpetuate lies in our society**, thus suggesting that GIS can be used by institutions to perpetuate certain inaccurate narratives that may create tension between communities and countries... Therefore, we must be aware that **mapping is more than displaying the distribution of data** across various locations and thus must work to follow ethical practices that produce accurate narratives that are not influenced by states' political objectives.

<https://github.com/albertkun/23S-ASIAAM-191A/discussions/1#discussioncomment-5566687>





# Al'ss Extra (credit)ordinary Posts

## Kyle Tsujimoto

“A historical example is the **common Eurocentric depiction** of the global map many of us studied in grade school which **divides the Pacific Ocean** on either side of the map. This map, however, implies that the Pacific Ocean is simply a body of water, ignoring the **diverse populations of Oceania** whose lands, and even families are divided by the map”

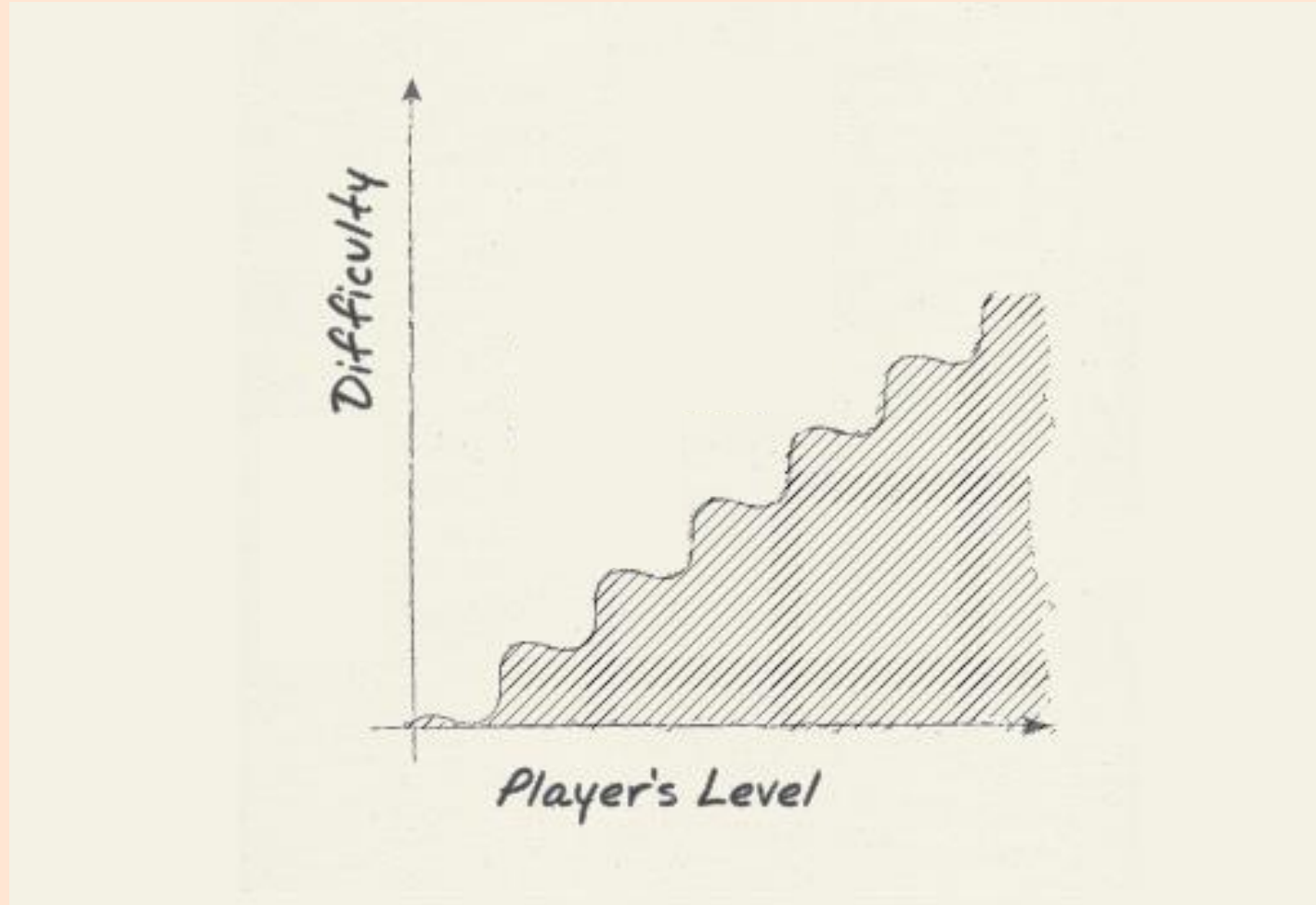
<https://github.com/albertkun/23S-ASIAAM-191A/discussions/1#discussioncomment-5562006>

## Cassidy Tu

“maps should be viewed as social documents analyzed with an awareness of their historical context... Overall, this ties nicely into Michel-Rolph Trouillot's *Silencing the Past*, where he analyzes how silences in historical narrative (essentially what has been **forgotten vs recorded**) **reveals inequalities of power...**”

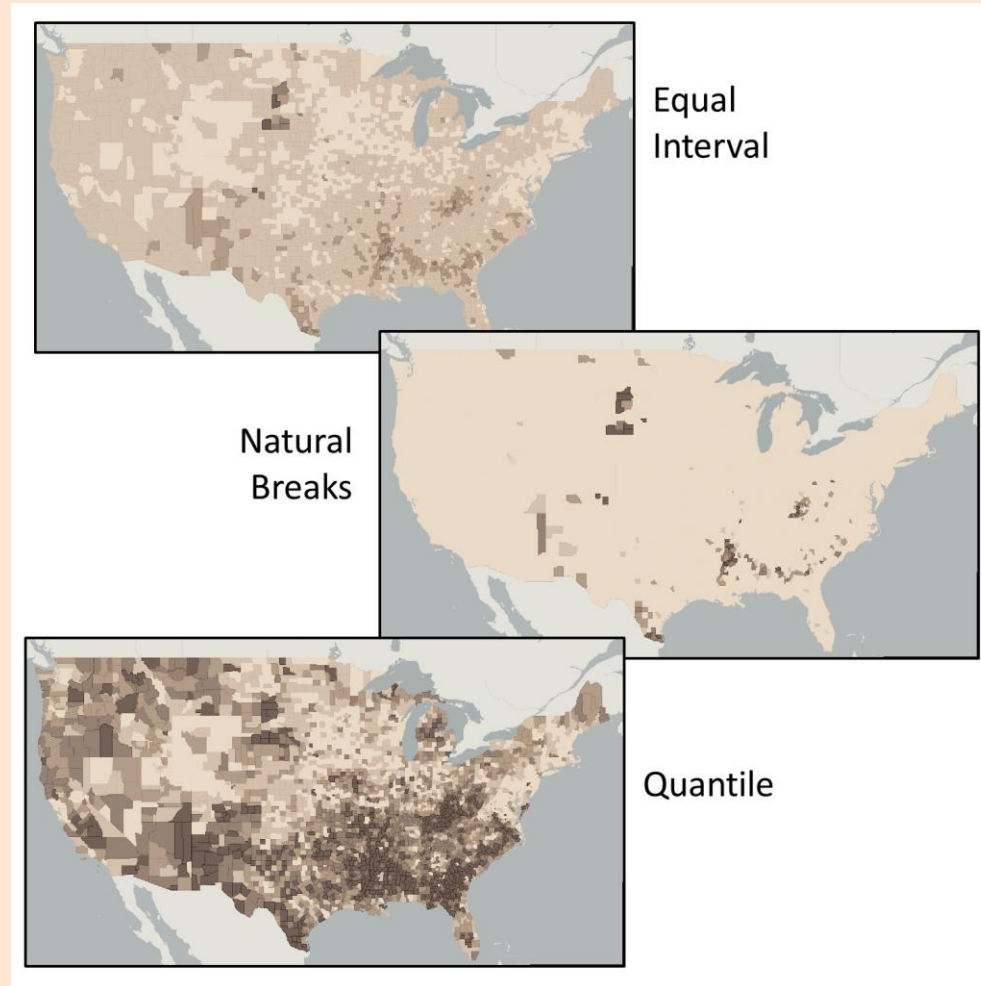
<https://github.com/albertkun/23S-ASIAAM-191A/discussions/1#discussioncomment-5573805>

# ALward Notes

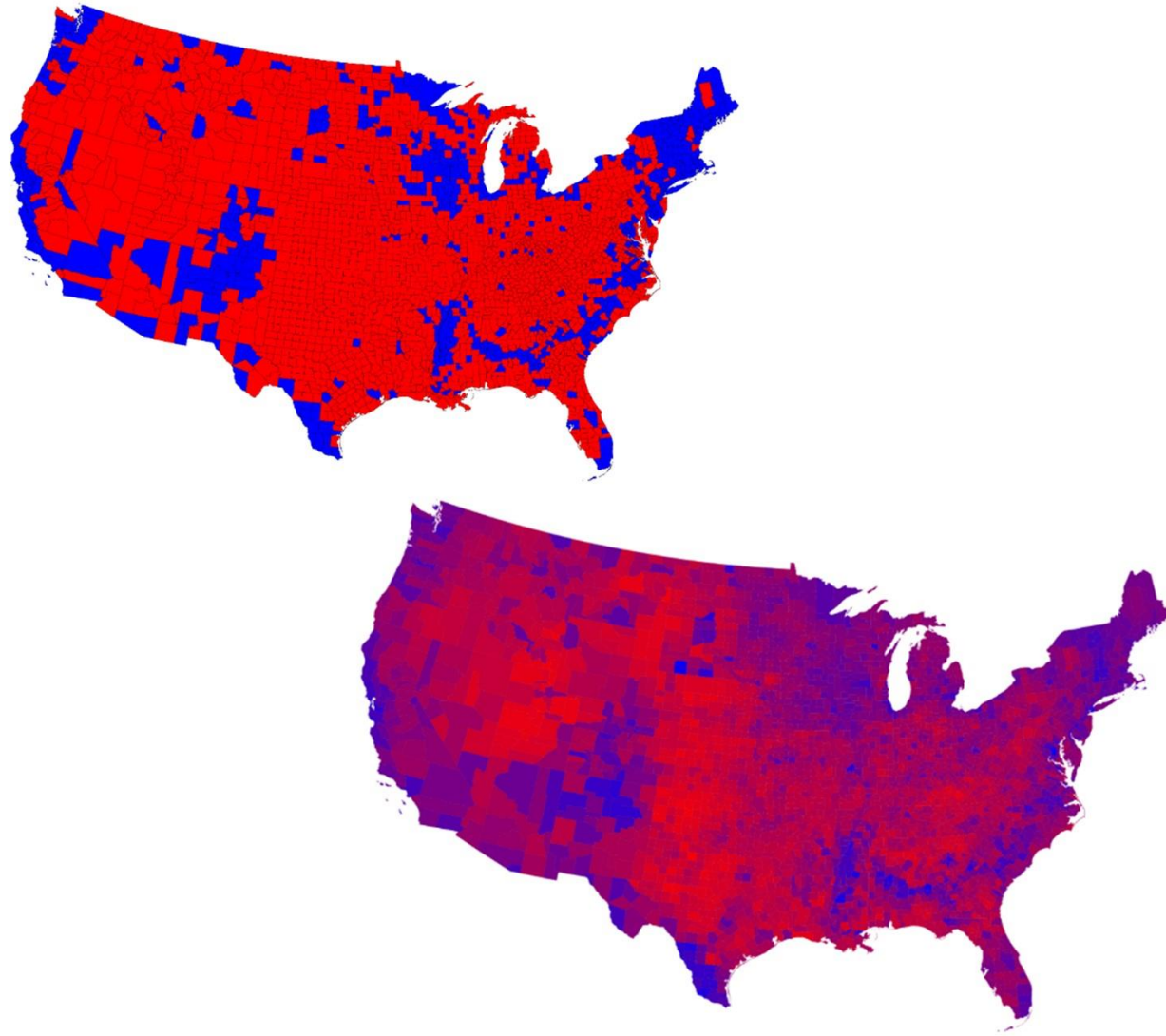


**Harder** to get awards next time!

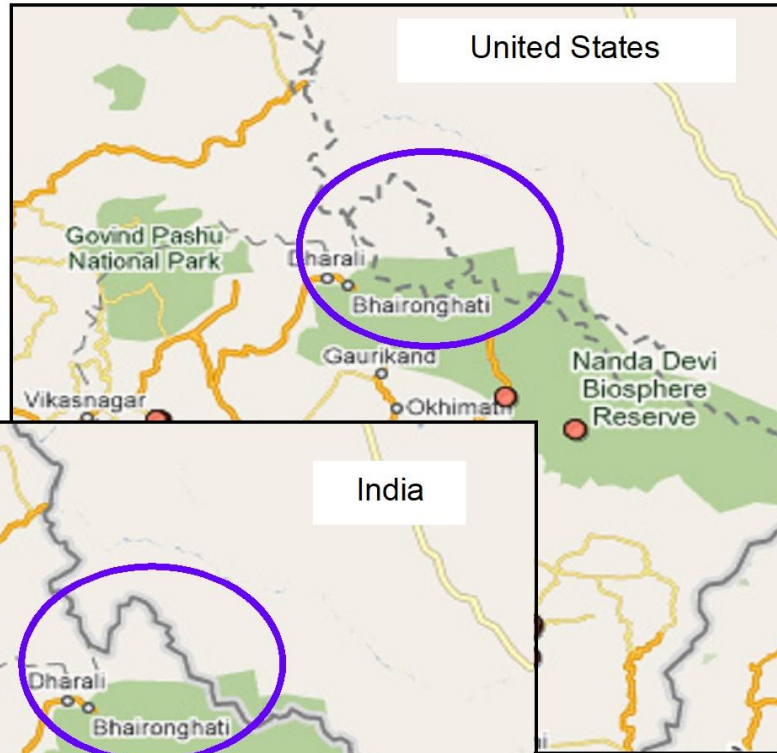
# ALward Notes: Lying with maps



## US Presidential Election Results by County (2012)



United States



India





Fox



BBC



CNN



<https://open.lib.umn.edu/mapping/chapter/7-lying-with-maps/>



# ALward Tips

- Here to learn from each other: **connect your own experiences!**
- Always a good idea: **referencing what was covered in the reading!**



# Humanizing Technology

---

Lecture

Visiting Voice

ALwards

Lecture

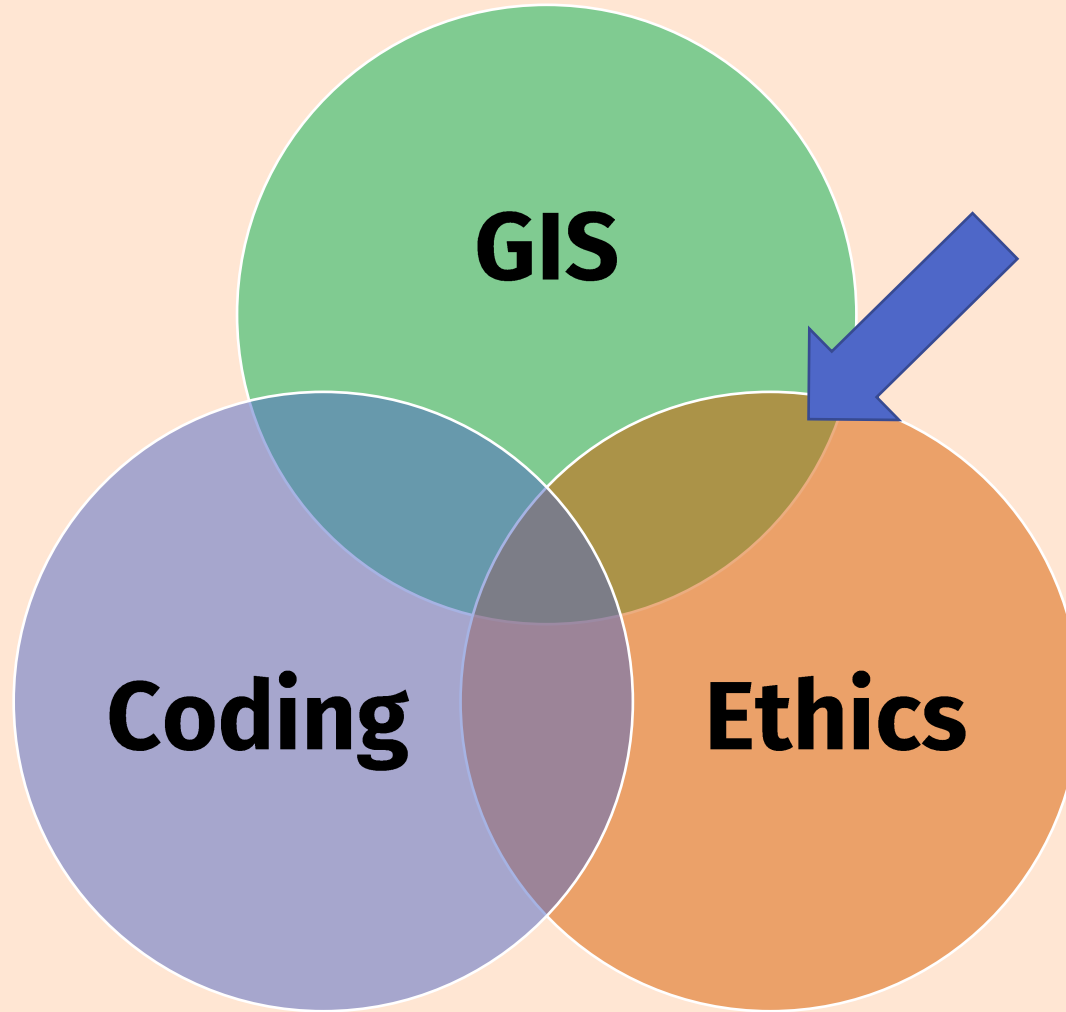
Discussion

Join at  
[slido.com](https://slido.com)  
#ucla

Albert Kochaphum  
Lecture 2 | April 11<sup>th</sup>, 2023



# Remember this?



**Where was Critical Cartography?**

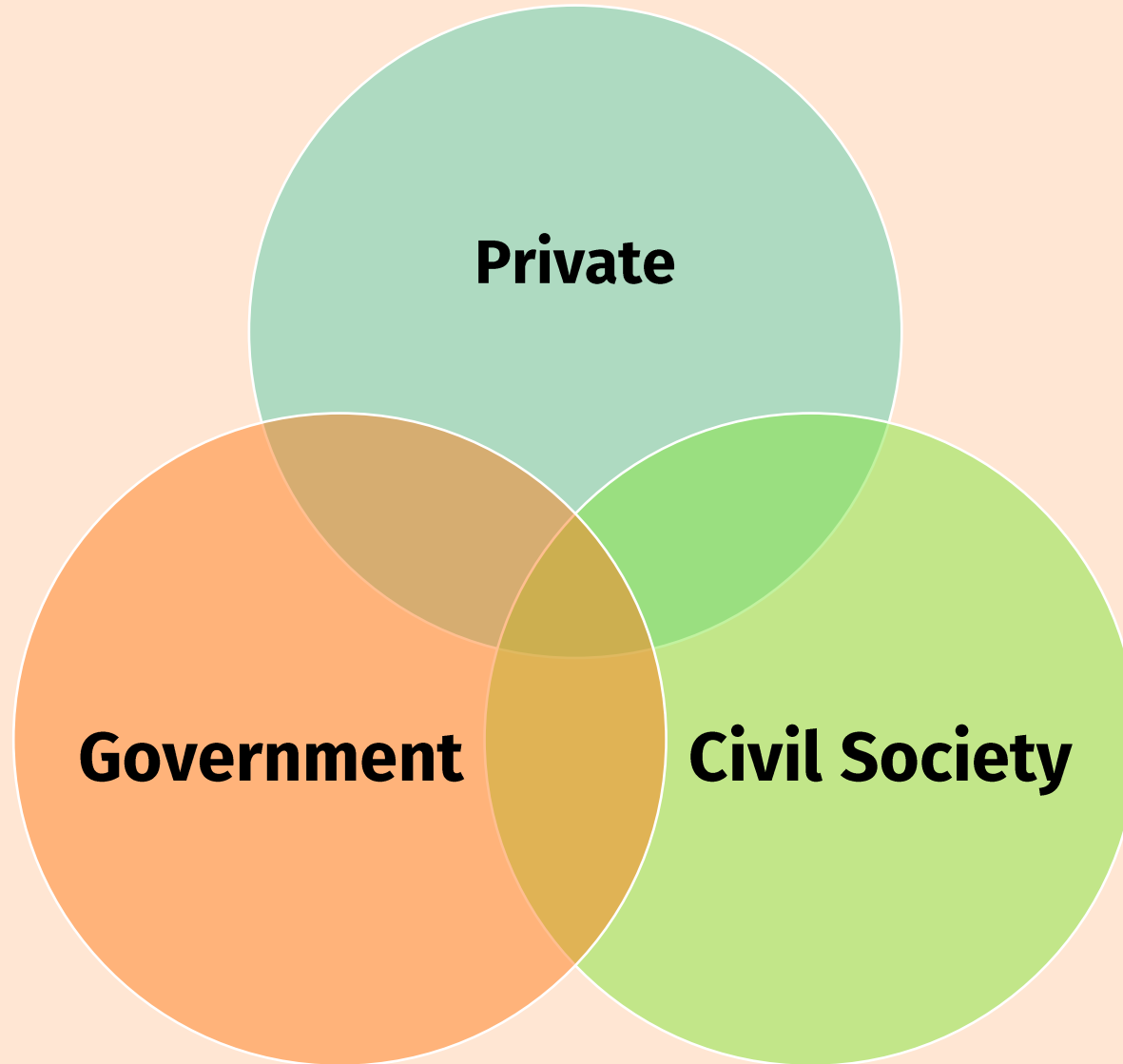
**Venn** will you ever stop showing diagrams?

**Never, so let me...**

**ven one mmo**  
**Diagram**


**to you**

# Sectors of Society



Civil Society's control over GIS data has been limited.

# Civil Society



**American  
Red Cross**

**ACLU**



**Habitat  
for Humanity®**



**WWF**  
World Wildlife  
Fund



# Civil Society in mapping



**Missing  
Maps**



**Humanitarian  
OpenStreetMap  
Team**



**MapSwipe**

# Civil Society and Critical Cartography



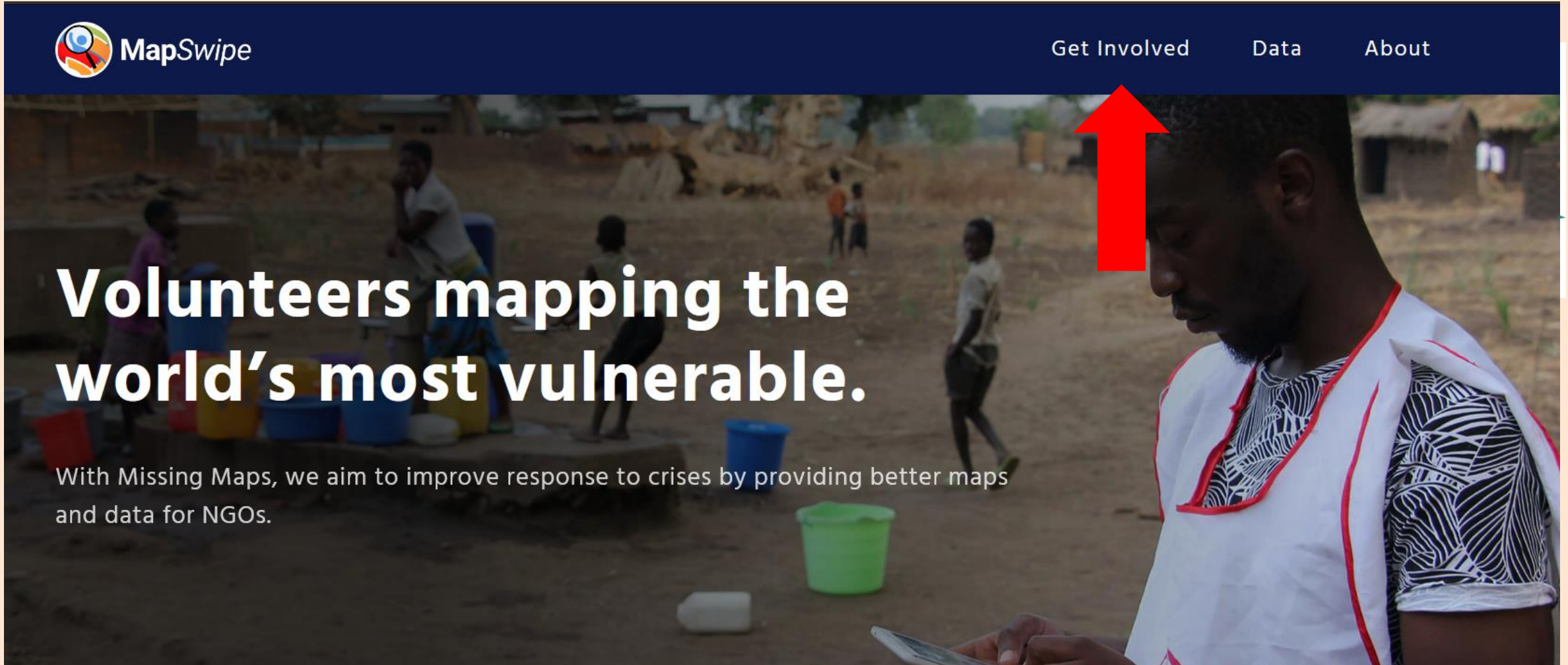
[Get Involved](#)

[Data](#)

[About](#)

**Volunteers mapping the world's most vulnerable.**

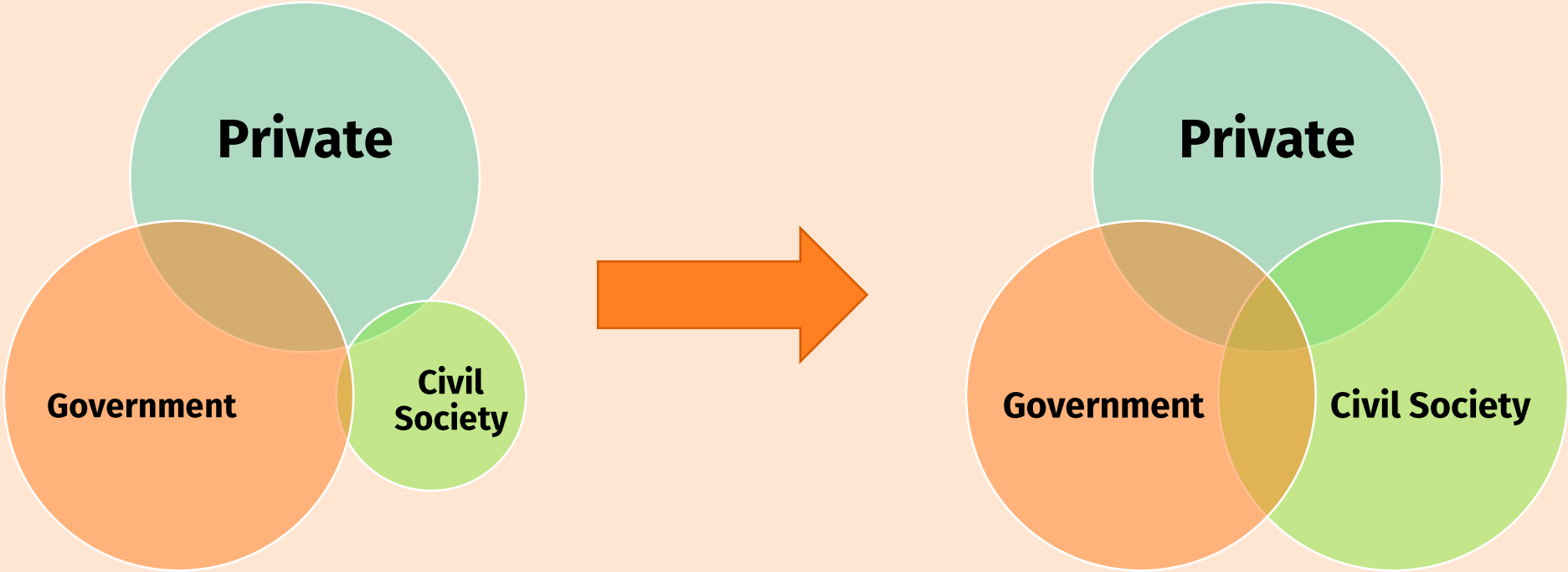
With Missing Maps, we aim to improve response to crises by providing better maps and data for NGOs.



# **Undisciplining Cartography**

**“Critique is about the politics of knowledge”**

# Undisciplining Cartography



**Re-aligning the power behind a map to civil society.**

# Undisciplining Cartography



Not about “mapping accuracy” but understanding **WHO’s mapped** and **WHO’s map** is it for.

# Undisciplining Cartography



**Nor is it about “perfect maps or data”: It is about acknowledging and critiquing the power dynamics behind mapping.**



# Humanizing Technology

---

Wrap-up

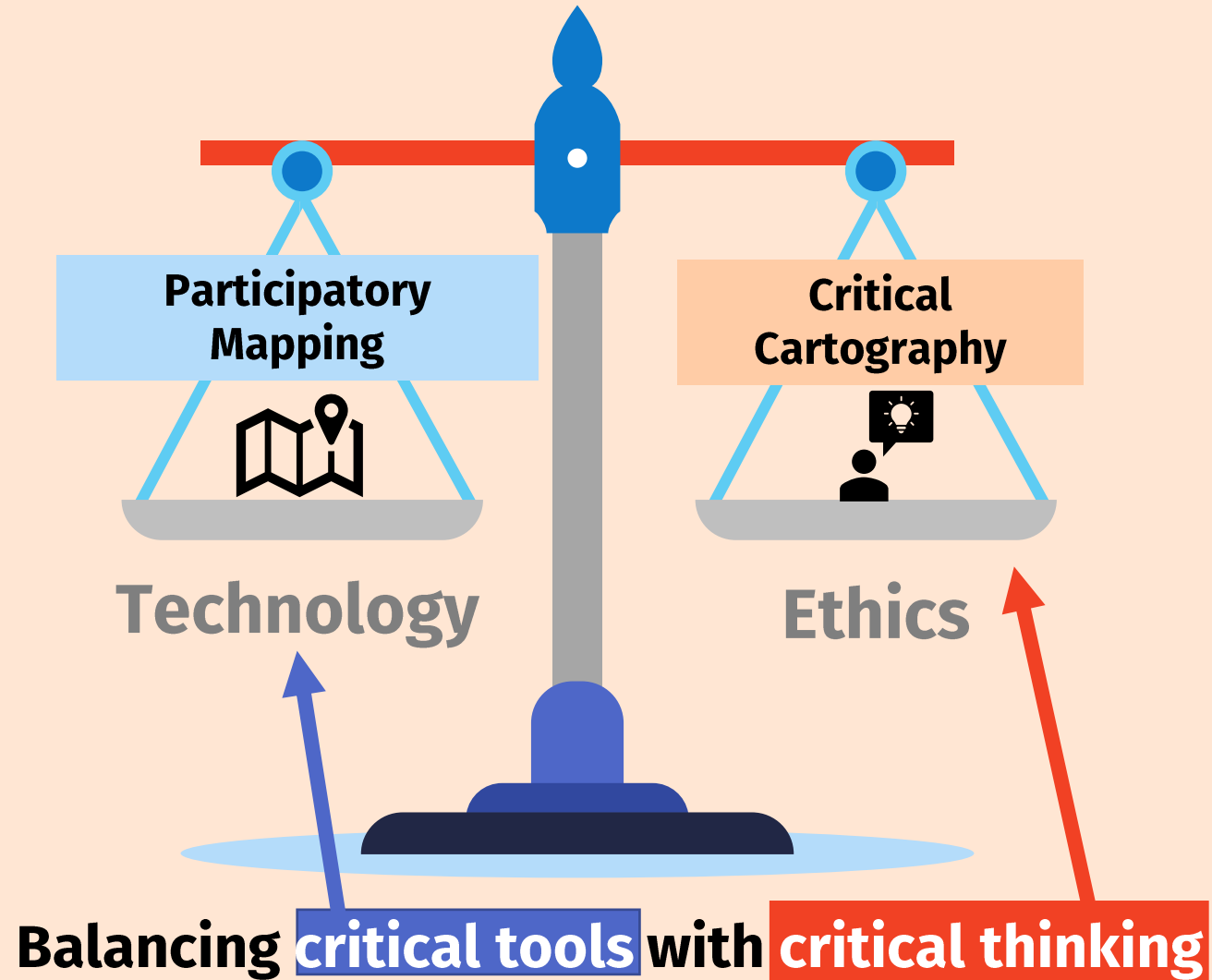
Visiting Voice

Lecture

Wrap-up

Group Time

# Reminder: Theme of the week



# **Thinking Cap for the week**

**How can participatory mapping and critical cartography be improved?**

# Weekly Reading

EJISDC (2006) 25, 2, 1-11

**PARTICIPATORY MAPPING AND GEOGRAPHIC INFORMATION SYSTEMS:  
WHOSE MAP? WHO IS EMPOWERED AND WHO DISEMPOWERED? WHO GAINS  
AND WHO LOSES?**

Robert Chambers  
Institute of Development Studies  
University of Sussex  
Brighton BN1 9RE, UK

<https://onlinelibrary.wiley.com/doi/epdf/10.1002/j.1681-4835.2006.tb00163.x>

# Assignments

**Due Thursday 4/13:**

- 1. Lab Assignment #1 –Your Map Portfolio**
- 2. Group Assignment #1 – Group Repository**
- 3. Pre-Lab – JavaScript and Web mapping**

# Humanizing Technology

---

Group Time

Visiting Voice

Lecture

Wrap-up

Group Time



# Group Spreadsheet

Tentative Theme	Asian American Hate	Environmental Justice	Gender Inequity	Gentrification	Health Care	Homelessness/Housing	Inequality	Mental Health	Ocean Pollution	South East Asians	Transportation
<b>Member 1</b>	Aris Corpus	Brian Nguyen	Cassidy Tu	Catherine Hu	Amanda Lau	Cassius "Casey" Carandang	Charles Zhang	Rebecca Suen	Angelica Alcantar	Alana Malika	Daniel Cruz
<b>Member 2</b>	Emma Lee	Elsa	Stella Kang	Jonathan Lopez	James Falkenroth	Josy Law	Victoria	Stephanie Cheung	Danielle Goldwirth	Joanne Luong	Dylan Wan
<b>Member 3</b>	Paige Lee	Enyi Emuka	Trinh Le	Maizah Ali	Kyle Tsujimoto	Mohammed Azad	Zack Pakin			Mandy Lai	Sage Luong

[https://docs.google.com/spreadsheets/d/1ZAr9Hd9fmtevEGRadA\\_a4xl-AoXM8eZJ3VQFygXnT5o/edit?usp=sharing](https://docs.google.com/spreadsheets/d/1ZAr9Hd9fmtevEGRadA_a4xl-AoXM8eZJ3VQFygXnT5o/edit?usp=sharing)

# During group time, feel free to:

- Change topics
- Move yourself around\*
- Ask me questions
- Work on group assignment #1

**\*Note: Each group **must have 2-3 people**, so you may need to swap with another member to change groups.**

# Group Assignment #1

1. Have one person **create a new repo** for the group and invite everyone as collaborators.
2. **Add a `readme.md`** to the repository that briefly describes the following in 1-2 sentences:
  - What social problem is being addressed?
  - Who is being empowered by your mapplication?
  - What technical and ethical problems could there be in developing this tool?
3. **Post your group members and repository on the discussion board!**

[https://albertkun.github.io/23S-ASIAAM-191A/assignments/week1/group\\_assignment/](https://albertkun.github.io/23S-ASIAAM-191A/assignments/week1/group_assignment/)